UNIT I PRECISION FARMING

Precision agriculture and agricultural management – Ground based sensors, Remote sensing, GPS, GIS and mapping software, Yield mapping systems, Crop production modeling.

1.1.Precision agriculture and agricultural management

Need of Precision Farming

- The environmental landscape in India reveals a concerning reality approximately 182 million hectares out of the total geographical area of 328 million hectares suffer from land degradation.
- Among these 141.33 million hectares are affected by water erosion, 11.50 million hectares by wind erosion, 13.24 million hectares by water logging and 2.63 million hectares by chemical deterioration (salinization and nutrient loss) respectively.
- This highlights the urgent necessity for high crop productivity making precision farming indispensable in today's agricultural context.
- With the global population projected to reach 9.6 billion by 2050 doubling food production becomes imperative.
- Technological innovations in precision farming are poised to boost productivity making it an inherent necessity in the agricultural sector.

Basics of Precision Agriculture:

This approach allows farmers to view their farms, crops and practices from a fresh perspective leading to cost reductions, yield and quality optimization tailored to the productive capacity of each site as well as improved resource management and environmental protection.

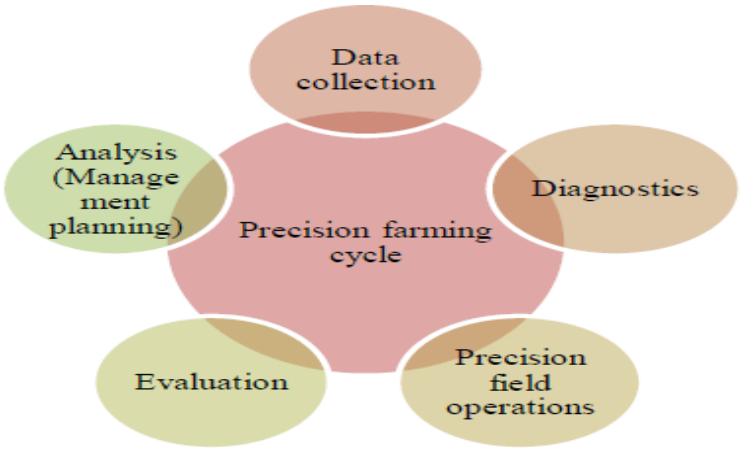

Figure 1.1: Precision Farming Cycle

Steps in Precision Farming:

Objectives:

1.Promoting precision farming involves integrating various components of agriculture to capitalize on variability leading to several benefits:

2.Lowering the cost of cultivation through the adoption of site-specific crop management practices.

3.Enhancing the efficiency of input usage by implementing site-specific input management strategies.

4.Mitigating soil and environmental pollution.

5.Decreasing the application of nutrients particularly nitrogen fertilizer thereby reducing nitrate levels in underground water and mitigating nitrous oxide emissions into the atmosphere.

6.Minimizing chemical usage through the implementation of variable rate application technology.

7. Reducing the consumption of irrigation water thereby lowering nutrient leaching and deep percolation.

The precision farming process encompasses three key steps:

1. Assessing Variability: This initial phase is crucial as it involves understanding the spatial and temporal variability of factors influencing crop performance such as yield and productivity. Various tools including remote sensing, global positioning systems (GPS), geographic information systems (GIS) and yield monitoring are employed to assess variability effectively. While methods for assessing spatial variability are well-established estimating temporal variability simultaneously remains challenging. However, advancements in technology have made it increasingly feasible to gather comprehensive data on both spatial and temporal variability.

2. Managing Variability: Once variability is assessed the next step involves managing field variability through site-specific allocation of crop production inputs. Farmers must match agronomic inputs to specific field conditions using precise control equipment. Variable rate application techniques enable the application of inputs in accordance with the identified variability across the field, optimizing resource utilization and enhancing productivity.

3. Evaluation of Precision Farming: The final step involves evaluating the effectiveness of precision farming practices in terms of economic, environmental and technological factors. Assessing profitability is essential with the value derived from utilizing field-collected performance data rather than solely relying on technology use. Precision farming systems are also assessed for their potential environmental benefits such as reducing agricultural inputs and greenhouse gas emissions. Ultimately the feasibility, applicability and profitability of precision farming depend on the integration of enabling technologies adherence to agronomic principles and decision rules and the achievement of increased production efficiency or other forms of value.

Precision Farming Tools:

In the past, researchers faced challenges in establishing correlations between production techniques and crop yields amid resource variability. However, the adoption of precision farming which tailors farming practices to specific locations has emerged as a solution. This approach involves considering the spatial variability of land to optimize crop production while minimizing input costs and environmental impact on soil, water and human health.

The key components of precision farming include GPS (Global Positioning System), sensors, GIS (Geographical Information System), grid soil sampling, variable rate fertilizer (VRT) application, rate controllers, yield monitors and specialized software. *Precision agriculture is a management strategy that uses information technologies to bring data from multiple sources to bear on decisions associated with crop production.*

Precision agriculture has three components: capture of data at an appropriate scale, interpretation and analysis of that data, and implementation of a management response at an appropriate scale and time. Each particular manageable factor has its own scale of variability. Area-wide management of insects and weather forecasting for crop management decisions are examples of variables that are managed at a scale larger than the individual field.

Precision agriculture (or precision farming) involves using technology to monitor and manage crop fields more accurately. The goal is to ensure that crops receive the right amount of nutrients, water, and other inputs at the right time and place. Key components include:

Agricultural Management

Agricultural management encompasses a broader range of activities aimed at optimizing farm operations. It includes:

1. **Crop Management:** Planning and implementing strategies for planting, maintaining, and harvesting crops. This involves crop rotation, pest management, and irrigation practices.
2. **Soil Management:** Managing soil health through practices like tillage, cover cropping, and organic amendments to improve fertility and structure.
3. **Water Management:** Efficient use of water resources through irrigation systems, water conservation practices, and monitoring to ensure optimal crop growth.
4. **Resource Management:** Effective management of resources such as labor, equipment, and financial inputs to maximize productivity and profitability.
5. **Risk Management:** Identifying and mitigating risks related to weather, market fluctuations, and pest outbreaks. This may involve insurance, diversification, and contingency planning.
6. **Sustainability Practices:** Incorporating practices that promote environmental health, such as reducing chemical use, conserving biodiversity, and managing waste.

7. **Economic Management:** Budgeting, financial planning, and investment in technology and infrastructure to ensure the economic viability of farming operations

1.2.Ground based sensors

Sensors offer the opportunity to automate collection of soil, crop, and pest data at a level of intensity not economically feasible with manual sampling and laboratory methods. Fields are highly heterogeneous.

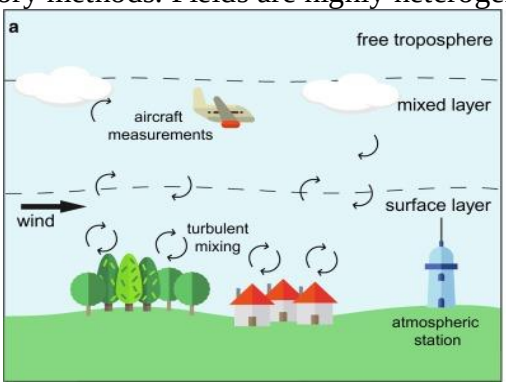

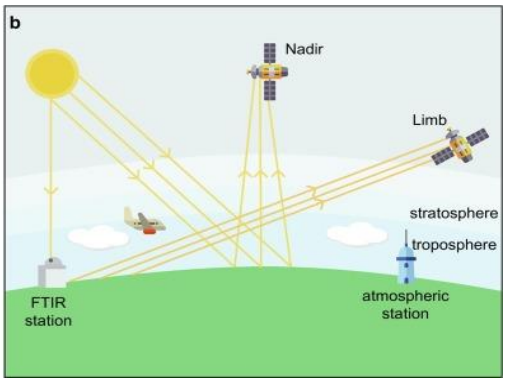

Ground-based sensors are devices placed on the Earth's surface or in proximity to it to collect data about various environmental or situational factors.

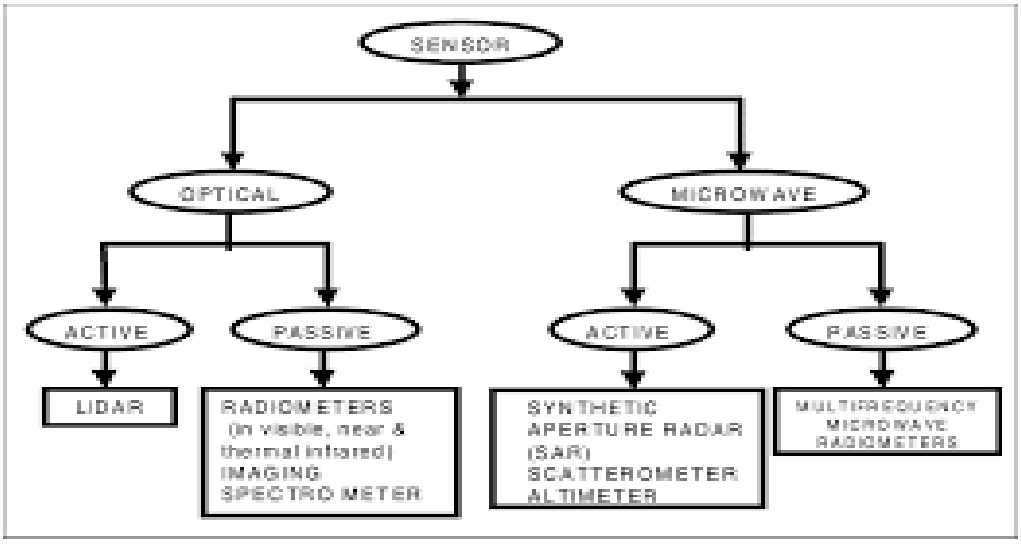

What are sensors?

- A sensor is a gadget that perceives and responds to certain inputs which could be illumination, locomotion, pressure, heat, or moisture, and transforms it into a representation or signals that can be read by humans for further reading and processing.

- They are commonly used in various applications, from detecting motion in security systems to measuring temperature in HVAC systems. They are also used in everyday objects like smartphones, cars, and appliances.

- Sensors work by detecting physical or chemical changes in the environment and converting them into electrical signals.

- Sensors, or instruments, aboard satellites and aircraft use the Sun as a source of illumination or provide their own source of illumination, measuring energy that is reflected back. Sensors that use natural energy from the Sun are called passive sensors; those that provide their own source of energy are called active sensors.

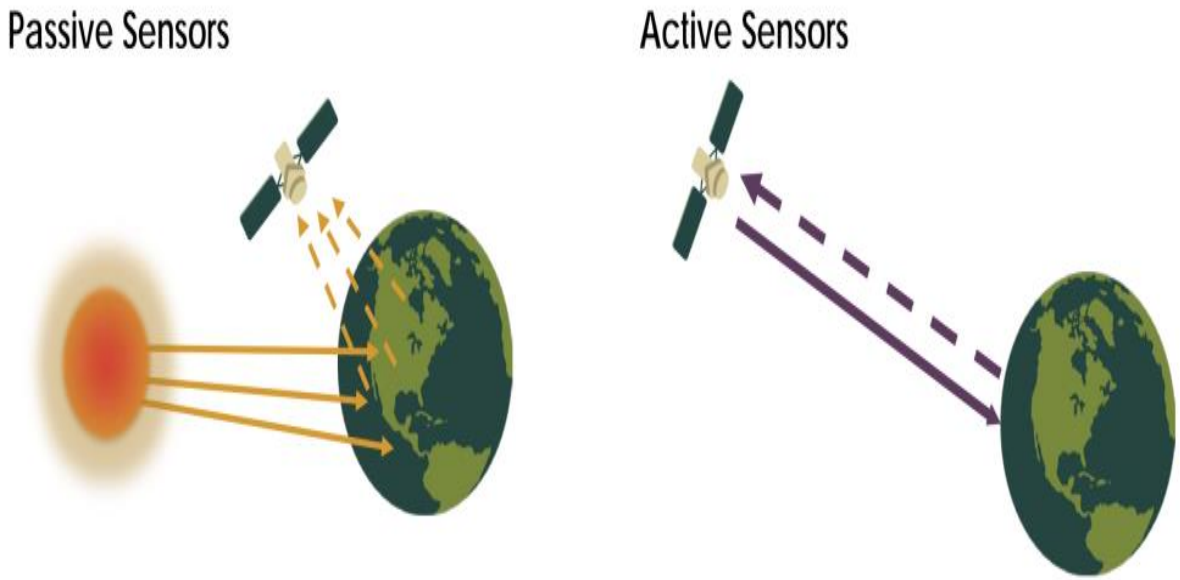

Passive sensors include different types of radiometers (instruments that quantitatively measure the intensity of electromagnetic radiation in select bands) and spectrometers (devices that are designed to detect, measure, and analyze the spectral content of reflected electromagnetic radiation). Most passive systems used by remote sensing applications operate in the visible, infrared, thermal infrared, and microwave portions of the electromagnetic spectrum. These sensors measure land and sea surface temperature, vegetation properties, cloud and aerosol properties, and other physical attributes. Most passive sensors cannot penetrate dense cloud cover and thus have limitations observing areas like the tropics where dense cloud cover is frequent.

Active sensors include different types of radio detection and ranging (radar) sensors, altimeters, and scatter meters. The majority of active sensors operate in the microwave band of the electromagnetic spectrum, which gives them the ability to penetrate the atmosphere under most conditions. These types of sensors are useful for measuring the vertical profiles of aerosols, forest structure, precipitation and winds, sea surface topography, and ice, among others.

The type of sensor used depends on the type of change being detected.

1. Optical Sensors In Agriculture

This is the use of light to evaluate soil materials and track countless light prevalence. These sensors can be positioned on automobiles, satellites, drones, or robots thereby enabling the soil to reflect and the gathering and processing of plant color data. Optical sensors also have the ability and capacity to condition the clay, natural matter, and humidity properties of the soil.

2. Electrochemical Sensors For Soil Nutrient Detection

The electrochemical sensors aid in the collection, processing, and mapping of the chemical data of the soil. They are usually mounted on specially designed sleds. They supply accurate details required for agriculture. This includes the nutrient of the soil levels and pH. The soil samples are then sent out to a soil testing lab and standard procedures are carried out.

Error-free measurements especially in the area of determining pH are carried out with the use of an ion-selective electrode. These electrodes notice the pursuit of specified ions, such as hydrogen, nitrate, and potassium.

3. Mechanical Soil Sensors For Agriculture

These types of sensors are used to measure soil compression or mechanical opposition. This sensor uses an application that passes through the soil. This sensor then records the force calculated by pressure scales or load cells.

When a sensor passes through the soil, it documents the holding forces that result from the cutting, smashing, and displacing of soil. Soil mechanical resistance is recorded in a unit of pressure and points out the ratio of the force necessary to go into the soil channel to the frontal area of the tool engaged with the soil.

4. Dielectric Soil Moisture Sensors

This sensor calculates the moisture levels in the soil with the assistance of a dielectric constant. This is an electrical property that substitutes depending on the moisture content in the soil.

The moisture sensors are used in association with precipitation check locations all around the farm. This allows for the scrutiny of soil moisture positioning when vegetation level is low.

5. Location Sensors In Agriculture

They are also known as agricultural weather stations. They are positioned at different places throughout the fields. These precision agriculture sensors are used to determine the variety,

distance, and height of any position within the required area. They take the help of GPS satellites for this purpose.

6. Electronic Sensors

They are installed on tractors and other field equipment to check equipment operations. Data are transmitted via cellular and satellite communication systems to computers or mailed to individuals directly. The supervisor in charge can now have access to the information either on their office computer or their personal cell phones.

7. Airflow Sensors

Its measurements can be made at particular locations while on the move. These types of sensors measure soil air penetration. The expected result is the pressure needed to push a decided amount of air into the ground at a prescribed depth. There are various soil properties, including moisture levels, soil type compaction, and structure, which produce a different identifying signature.

8. Agriculture Sensors IoT

With the increase in adoption of the Internet of Things (IoT) the ability to connect various devices have being implemented in virtually every aspect of our life. It only makes great sense that automation also finds its own application in agriculture as it will have a great impact on it.

This sensor provides real-time information on what is happening on the field such information including air temperature, soil temperature at various depths, rainfall, leaf wetness, chlorophyll, wind speed, dew point temperature, wind direction, relative humidity, solar radiation, and atmospheric pressure.

This indicates that farmers are in the know-how of when their crops are due for harvest, the quantity of water being used, the soil health, and if there's a need for any additional input. This is measured and recorded at scheduled intervals.

There is a big list of sensors used in agriculture IOT sensors which means (Solutions for Smart Farming). Making use of precision agriculture sensors will definitely transform the agricultural industry by increasing crop production, adopting a pest-free high yield variety in crops, and keeping up with the increasing demand for food.

These sensors can be used for a wide range of applications, including:

1. **Weather Monitoring**: Sensors that measure temperature, humidity, atmospheric pressure, wind speed, and precipitation to provide weather forecasts and climate data.

2. **Environmental Monitoring**: Sensors that track air and water quality, soil conditions, and pollutant levels to assess and manage environmental health.
3. **Geophysical Measurements**: Sensors that measure seismic activity, ground deformation, and magnetic fields to study geological processes and natural hazards.
4. **Agriculture**: Sensors used in precision farming to monitor soil moisture, crop health, and weather conditions to optimize irrigation and improve crop yields.
5. **Surveillance and Security**: Cameras, motion detectors, and other sensors used to monitor and secure physical spaces, detect intrusions, and track activities.
6. **Traffic Management**: Sensors that monitor vehicle flow, congestion, and road conditions to improve traffic management and reduce accidents.
7. **Infrastructure Monitoring**: Sensors that assess the structural health of bridges, buildings, and other infrastructure to ensure safety and prevent failures.
8. **Scientific Research**: Various sensors used in research to collect data on phenomena like cosmic rays, radiation levels, and other physical properties.

1.3.Remote sensing

Remote sensing—the acquisition of information from remote locations such as an airplane or satellite—is a potentially important source of data for precision agriculture. In the long term, remote sensing could provide numerous forms of information, both spatially and temporally. However, improvements are needed in the analytical products and delivery systems if remote sensing is to meet its promise for precision agriculture.For more than 30 years remote sensing has been envisioned as a valuable source of information for crop management.

Remote sensing is the science of acquiring information about an object or phenomenon without making physical contact with it. This is typically done through the use of various types of sensors mounted on platforms such as satellites, aircraft, drones, or ground-based stations.

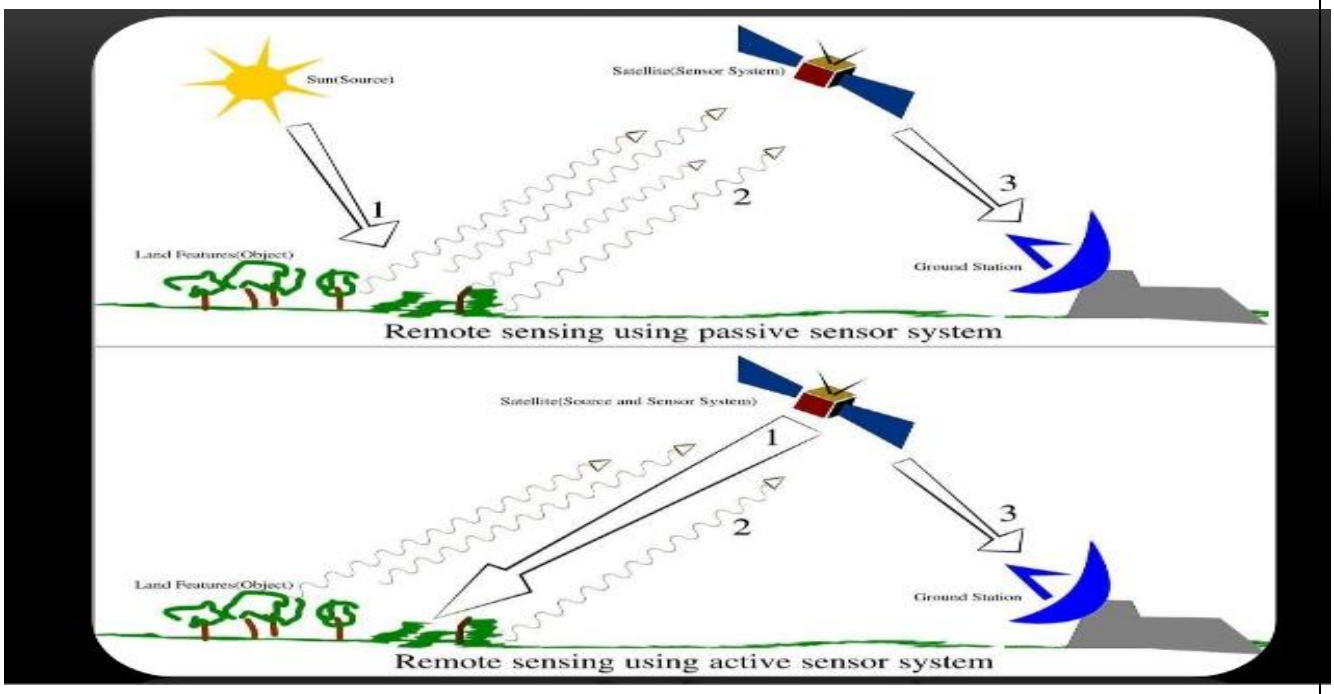

There are three broad categories of remote sensing platforms:

- Ground based,
- Airborne,
- Satellite.

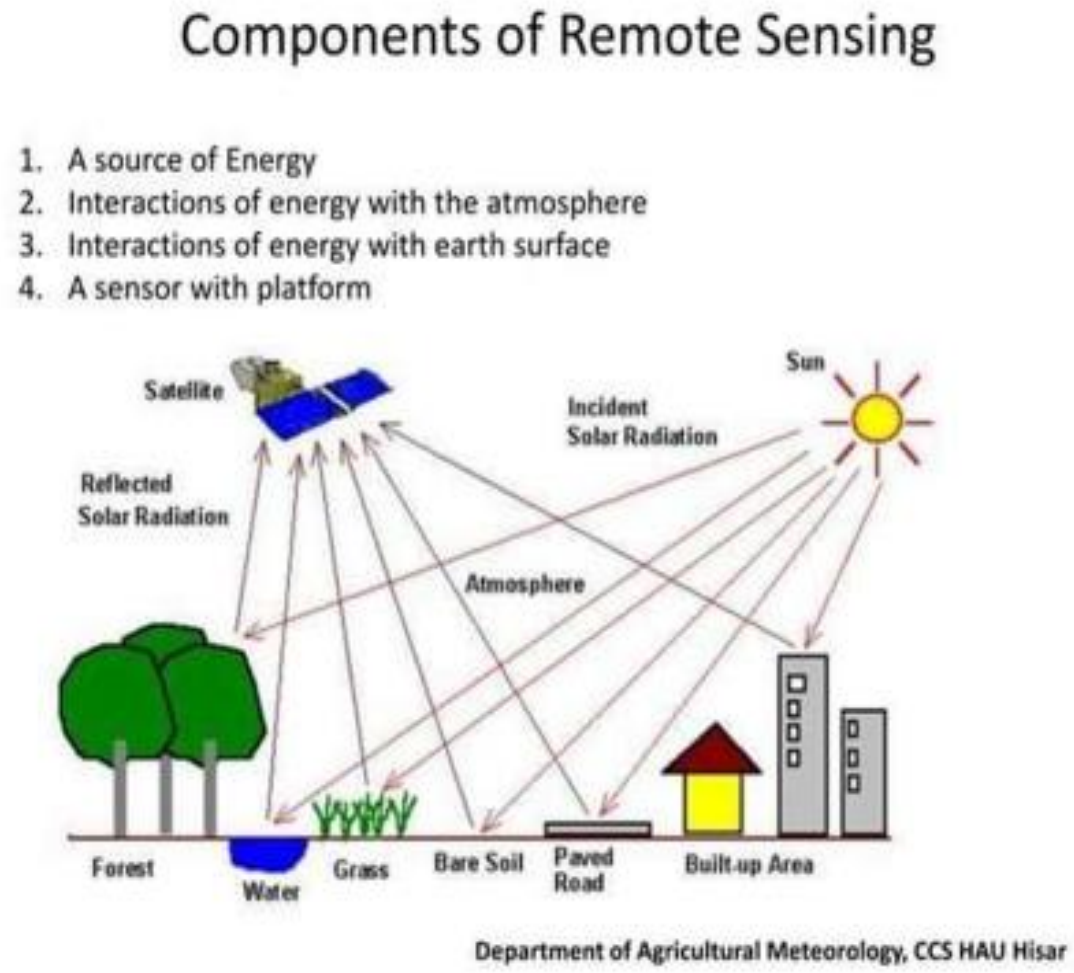

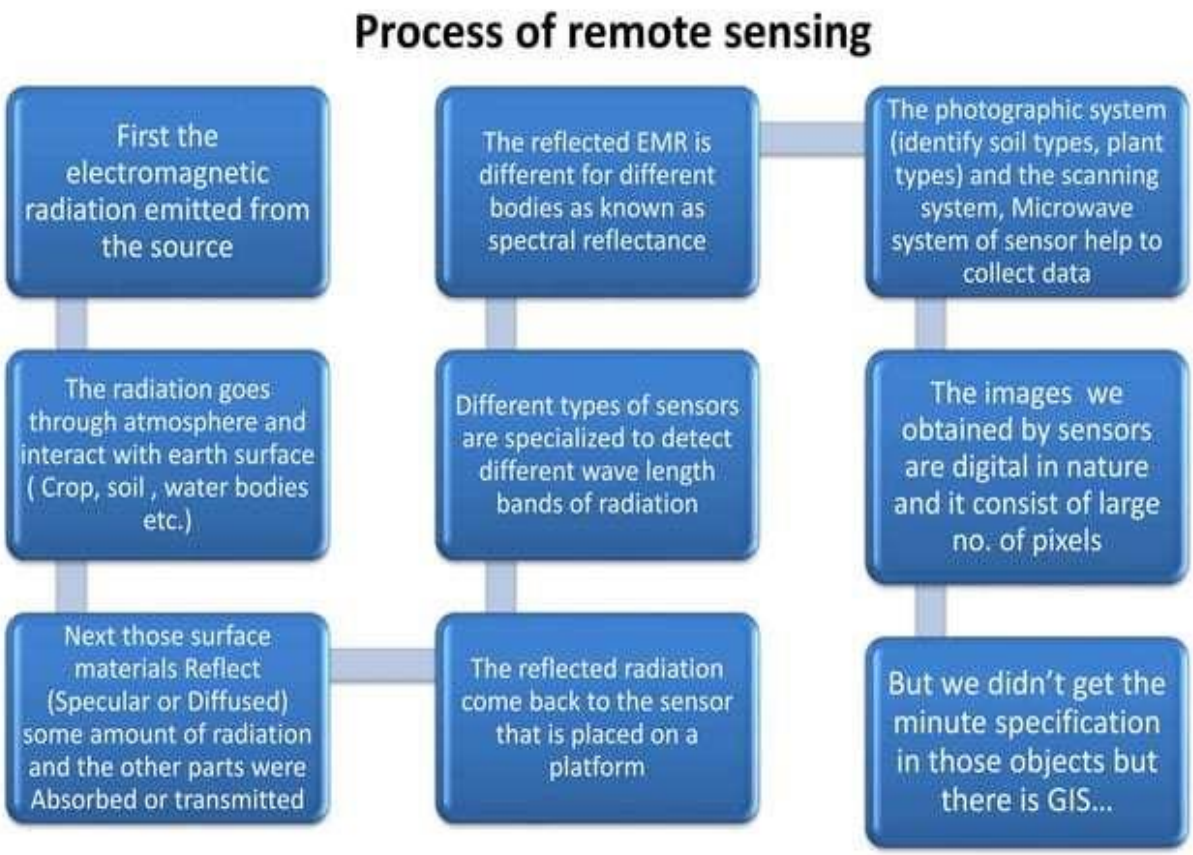

Types of Remote Sensing

1. **Optical Remote Sensing**: Utilizes visible, infrared, and ultraviolet light to capture images of the Earth's surface. Common sensors include multispectral and hyperspectral imaging systems.
    - **Multispectral Imaging**: Captures data in several specific wavelength bands, useful for vegetation mapping and land use classification.
    - **Hyperspectral Imaging**: Captures data across many more wavelength bands than multispectral imaging, allowing for more detailed material identification.
2. **Radar Remote Sensing**: Uses microwave radar signals to detect and measure objects, even through clouds or in darkness. Examples include Synthetic Aperture Radar (SAR) and Interferometric SAR (InSAR).
    - **SAR**: Provides high-resolution images and can measure surface deformations.
    - **InSAR**: Measures changes in the Earth's surface with high precision, useful for monitoring subsidence and seismic activity.
3. **Lidar (Light Detection and Ranging)**: Uses laser pulses to measure distances to the Earth's surface, creating detailed 3D models of the terrain. Useful for topographic mapping, vegetation analysis, and forestry.

4. **Thermal Remote Sensing**: Measures emitted thermal infrared radiation to assess surface temperatures. Useful for monitoring heat islands, volcanic activity, and water temperatures.

Applications of Remote Sensing

Applications of remote sensing in agriculture: Remote sensing technology has found numerous applications in fields like forestry, geology, surveying, and photography. However, the use of remote sensing in agriculture is where it has been found most useful. Some of the many applications of agriculture and remote sensing include the following.

1. Observing and monitoring crops

A critical role of remote sensing in agriculture is monitoring the health of crops. Optical (VIR) sensing allows one to see beyond visible wavelengths, like infrared; in this case, the wavelengths are very sensitive to crop vigor, damage, and stress. Recent advances in this technology have allowed farmers to observe their fields and make timely crop management decisions. Crop identification using remote sensing also helps identify crops affected by conditions related to weather, pests, etc.

2. Observing soil conditions

For precision agriculture, monitoring the soil is essential. Some critical soil parameters to optimize crop management include soil organic matter (SOM), soil texture, soil pH level, moisture content, etc. Remote sensing technology in agriculture will also provide canopy health, growth stage, yield, biomass, and vegetative density. If you want to investigate the crop growth pattern changes, you need to emphasize the link between crop performance and soil conditions.

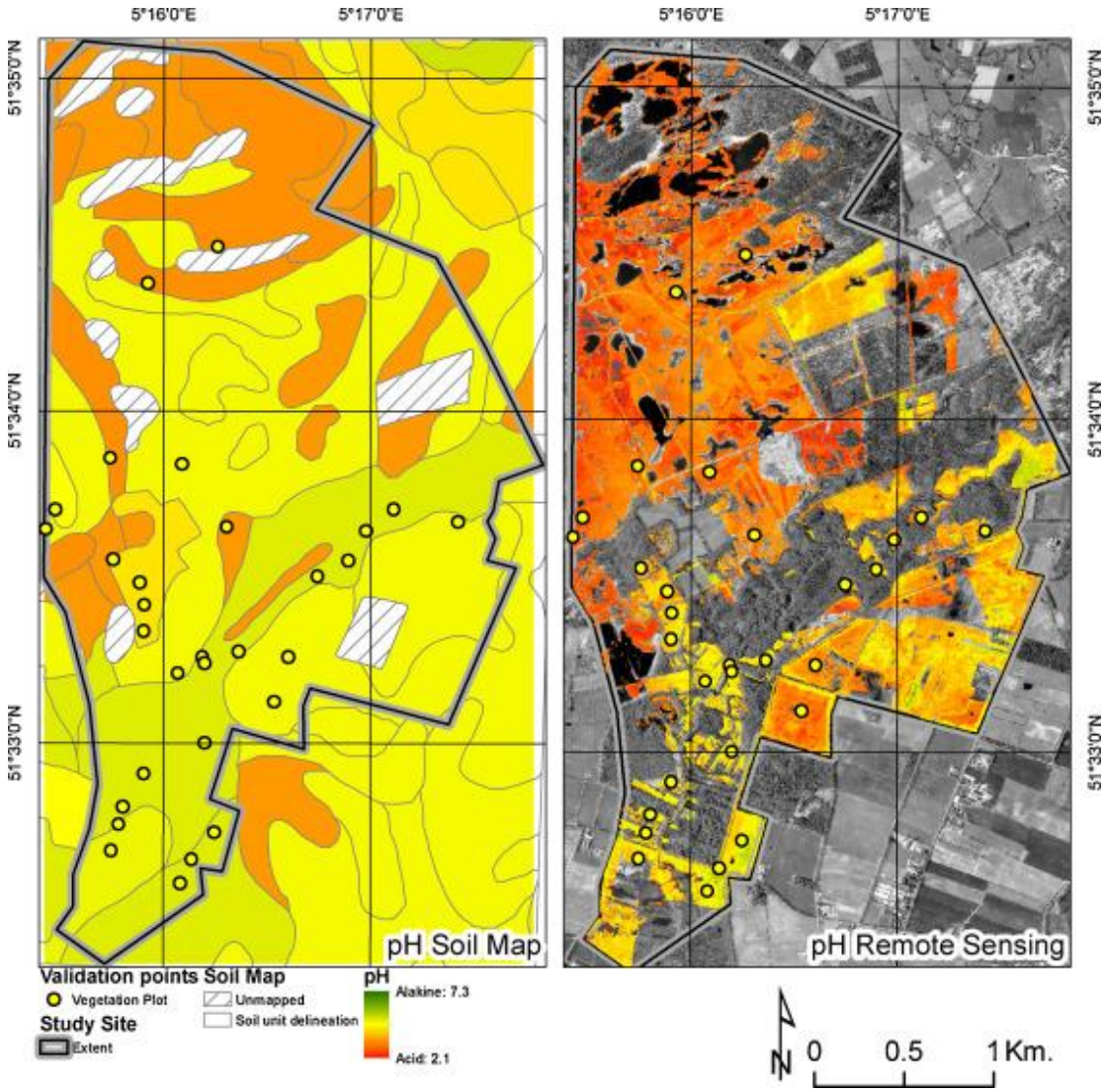

Farming soil observed using remote sensing | Source: https://ars.els-cdn.com/content/image/1-s2.0-S0303243415001142-gr2.jpg

3. Monitoring water conditions

Due to population growth and food demand, it is expected that irrigated lands will double by 2050. It will decrease water availability, contribute to climate change, and cause other environmental changes. Hence, monitoring and assessing agricultural water resources are critical to achieving sustainable food security and development. Remote sensing in precision farming has successfully provided accurate and timely information like water bodies, irrigated cropland, crop and soil water status, and various scales.

4. Predicting weather conditions

Climate and weather data systems are essential if you want to make crop management decisions and schedule irrigation. Additionally, this data can also help you prepare against natural disasters. This application of remote sensing in precision farming has provided

spatial coverage to predict upcoming weather conditions successfully. With this data's help, you will be provided better predictions of crop needs and help cut down unwanted costs.

5. Observing air quality

Different types of crops thrive in different air conditions. Some may do well against windy air conditions, while others are more suited for calmer environments. Remote sensing in plant protection has allowed us to determine air conditions in specific locations. This data can help you predict upcoming air conditions to take the necessary precautions in case of unfavourable weather conditions.

6. Precision farming

The introduction of new farming techniques in the last few decades has helped agriculture keep pace with the increasing population's food demand. Precision farming and crop mapping using remote sensing aim to increase the yield of the crops and minimize strain on the natural environment. Modern technologies like AI or the Internet of Things have proved to be useful in this aspect. Remote sensing uses in agriculture have also been used to increase the productivity of the crops.

7. Monitoring and predicting climate changes

The remote sensing concept and application in agriculture has provided a lot of advances when it comes to an understanding of climatic changes by quantifying the temporal states of the oceans, land, and atmosphere. While technologies could detect weather and climatic changes, there were not as precise as this one. When it comes to farming and agriculture, weather plays an important role and will determine the yield results. Hence, this technology has proved to be a valuable tool for making accurate climate change predictions.

Advantages:

- **Wide Coverage**: Can cover large areas and provide consistent, repetitive observations.
- **Accessibility**: Can monitor remote or inaccessible regions.
- **Real-Time Data**: Many systems offer near-real-time data, which is crucial for timely decision-making.

Challenges:

- **Data Processing**: Large volumes of data require significant processing and analysis.
- **Resolution and Accuracy**: The effectiveness of remote sensing depends on the spatial, spectral, and temporal resolution of the sensors.
- **Cost**: High-quality remote sensing systems, especially those in space, can be expensive to develop and operate.

1.4.GPS

Although it was developed for military purposes, the technology has since spread into the civilian world and has been used for non-military purposes for many years. Fleet managers and operators can do so much more to improve the efficiency and visibility of their assets thanks to GPS. Many everyday tasks are made easier by its positioning and navigation capabilities. Agriculture is one industry that has consistently benefited from this technology. GPS in agriculture has a lot of potential in this industry.

By 2050, the world's population is estimated to increase by nearly 10 billion people. To meet these expectations, global agricultural productivity must increase as well. Precision agriculture and advanced technologies such as automation, computer vision, artificial intelligence (AI), and machine learning are already on the farm assisting farmers in meeting this demand, and GPS technology in agriculture plays a particularly significant and transformative role in making this possible.

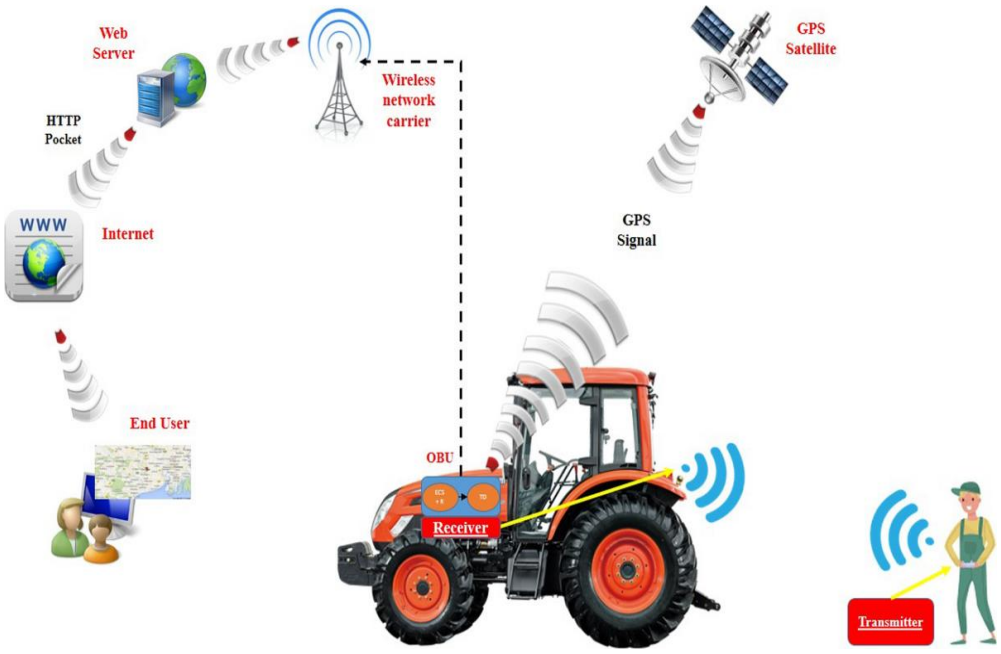

Global Positioning System

it is a space-based radio navigation system originally designed primarily to provide highly accurate radio navigation capability to U.S. military forces, while also providing an unencrypted signal of degraded accuracy to civilian users. Positioning is achieved through the use of simultaneously received satellite transmissions from four or more satellites above the horizon. The GPS receiver allows latitude, longitude, and altitude coordinate information to be associated with data obtained from a specific site on the field. GPS in farming brings value at every stage of precision agriculture.

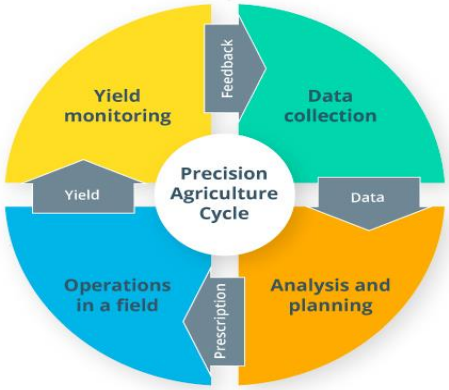

Applications of GPS in Agriculture

1. **Precision Farming**:
   - **Field Mapping**: GPS is used to create detailed maps of fields that show variations in soil properties, moisture levels, and crop health. This information helps in making targeted decisions for planting, fertilizing, and irrigating.
   - **Variable Rate Technology (VRT)**: With GPS, farmers can apply inputs such as fertilizers, pesticides, and herbicides at varying rates across different parts of a field. This ensures that resources are used efficiently based on the specific needs of each area.
2. **Guidance Systems**:
   - **Auto-Steering**: GPS-guided auto-steering systems for tractors and other machinery help maintain straight lines and reduce overlaps or gaps in planting and harvesting. This improves efficiency and reduces fuel consumption.
   - **Guidance Lines**: GPS provides guidance for planting, harvesting, and other field operations, helping machinery follow optimal paths and align correctly with field boundaries.
3. **Yield Monitoring**:
   - **Yield Mapping**: GPS-equipped harvesters collect data on crop yields across different sections of a field. This data is used to create yield maps that reveal productivity variations, allowing farmers to analyze performance and adjust practices.
4. **Irrigation Management**:
   - **Automated Irrigation**: GPS helps design and manage irrigation systems by mapping field layouts and water needs. Automated systems can apply precise amounts of water to different areas of a field, improving water use efficiency.
5. **Field Navigation**:
   - **Efficient Navigation**: GPS aids in navigating large fields and performing operations with high precision, reducing the time and effort needed to complete tasks.
6. **Monitoring and Control**:
   - **Real-Time Monitoring**: GPS data can be integrated with other sensors and IoT devices to monitor crop health, soil moisture, and weather conditions, providing real-time insights for better management.

- **Data Integration**: GPS data can be combined with satellite imagery and other sources to enhance decision-making and field management.

Benefits of GPS in Agriculture

1. **Increased Efficiency**:
   - **Optimized Input Use**: GPS allows for the precise application of seeds, fertilizers, and water, reducing waste and increasing efficiency.
   - **Reduced Overlaps**: Auto-steering systems minimize overlaps and gaps in field operations, saving time and reducing input costs.
2. **Improved Productivity**:
   - **Enhanced Yields**: By applying inputs based on field conditions, farmers can improve crop yields and overall productivity.
   - **Better Field Management**: Detailed maps and yield data help in making informed decisions about field management and harvesting.
3. **Cost Savings**:
   - **Reduced Input Costs**: Accurate application reduces the amount of inputs needed, leading to cost savings.
   - **Fuel Efficiency**: Auto-steering and optimized navigation reduce fuel consumption and wear on machinery.
4. **Environmental Benefits**:
   - **Reduced Environmental Impact**: Precision farming practices help minimize overuse of chemicals and water, reducing environmental impact and promoting sustainability.
   - **Soil Health**: Better management practices contribute to improved soil health and reduced erosion.
5. **Enhanced Decision-Making**:
   - **Data-Driven Insights**: GPS data, combined with other information, provides valuable insights that help farmers make better decisions and optimize practices.

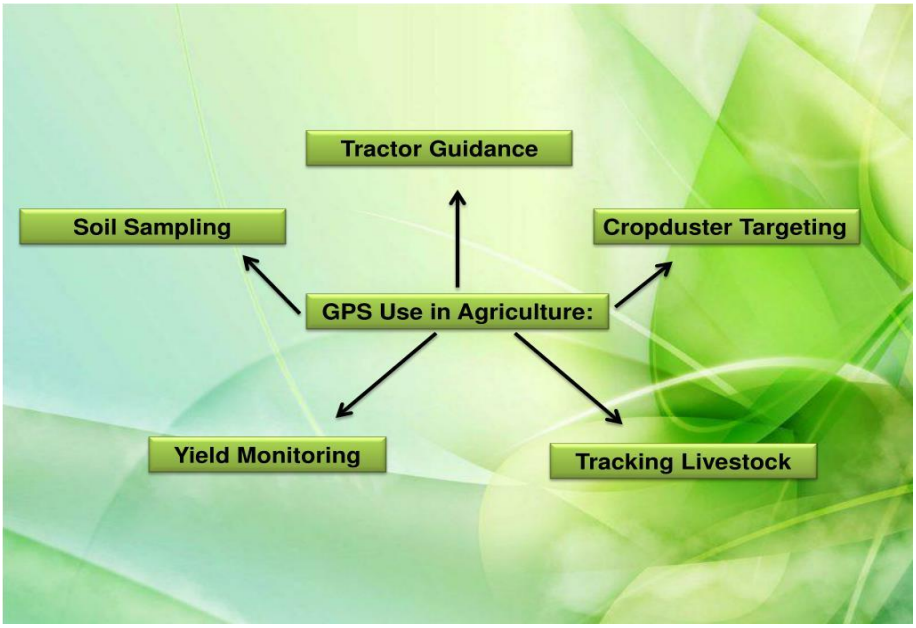

Challenges and Considerations

1. **Cost**: The initial investment in GPS technology and related equipment can be high. However, the long-term savings and increased productivity often justify the cost.
2. **Technical Issues**: GPS signals can be affected by obstructions, weather conditions, or interference. Reliable equipment and backup systems are necessary to address these issues.
3. **Data Management**: Managing and analyzing the large volumes of data generated by GPS and other sensors requires specialized knowledge and software.
4. **Integration**: Ensuring that GPS systems work seamlessly with other farm management tools and practices is crucial for maximizing benefits.

1.5.GIS and mapping software

Geographic information systems:

hardware, software, data, organizations, and institutional relations to automate, manage, analyze, and display georeferenced information of and about the earth. Digital geographic data that can be stored, analyzed, integrated, and displayed in different representations, form the core of precision agriculture. The software packages used to handle such data, Geographic Information Systems (GIS), are available with a wide range of capabilities and costs, but all are able to graphically
Display georeferenced data.

Although a single data layer (i.e., yield data) can be mapped with the use of less-sophisticated software, more complex relationships (i.e., temporal patterns or multivariate comparisons) are best performed with full-function GIS packages. The data layers derived from combinations of raw data can generate information about spatial variability among factors in crop production. It is expected that adequately co-registered data will be quantitatively analyzed through the use of geostatistical and other procedures.

Components *of Geo informatics*

These components work together to provide insights into various aspects of the Earth's surface and its relationships. Here are the main components of geo informatics:

- **Geographic Information Systems (GIS):** GIS involves the use of software and hardware to collect, store, manipulate, analyze, and visualize geographic data. This data is organized into layers, allowing users to create maps, conduct spatial analysis, and make informed decisions based on spatial relationships.
- **Remote Sensing:** Remote sensing involves the collection of information about the Earth's surface from a distance, typically using satellites, aircraft, or drones. Remote sensing data, often in the form of imagery, can provide insights into land cover, vegetation health, climate patterns, and more.
- **Global Positioning Systems (GPS)**: GPS technology enables accurate positioning and navigation through a network of satellites. In GIS, GPS is used to collect precise location data, which is crucial for mapping, navigation, and spatial analysis.

- **Spatial Analysis:** It enables the application of various spatial analysis techniques to understand patterns, relationships, and trends within geographic data. These techniques include proximity analysis, interpolation, overlay analysis, and network analysis.
- **Cartography**: Cartography involves the creation of maps and visual representations of geographic data. It provides tools and methods to design informative and visually appealing maps that effectively communicate spatial information.
- **Geo databases**: Geo databases are structured databases designed to store and manage geographic data. They provide a framework for organizing spatial data, allowing for efficient storage, retrieval, and analysis.
- **Web Mapping and Geospatial Applications**: Geo informatics has expanded into web-based mapping and applications, allowing users to access and interact with geographic data through online platforms. This has led to the development of various location-based services and tools.
- **Geospatial Modeling**: Geospatial modeling involves the creation of computational models to simulate real-world geographic processes. These models help predict outcomes, simulate scenarios, and aid decision-making in various fields.

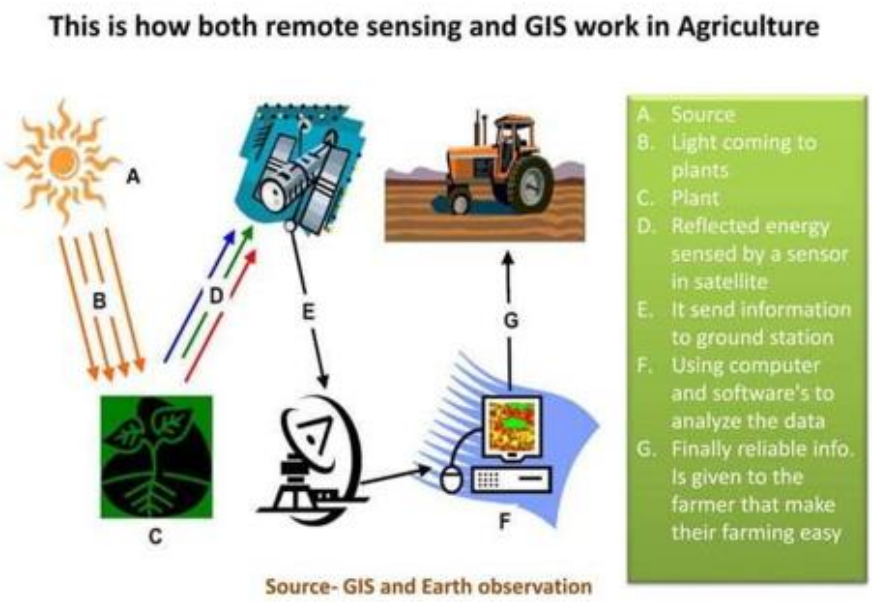

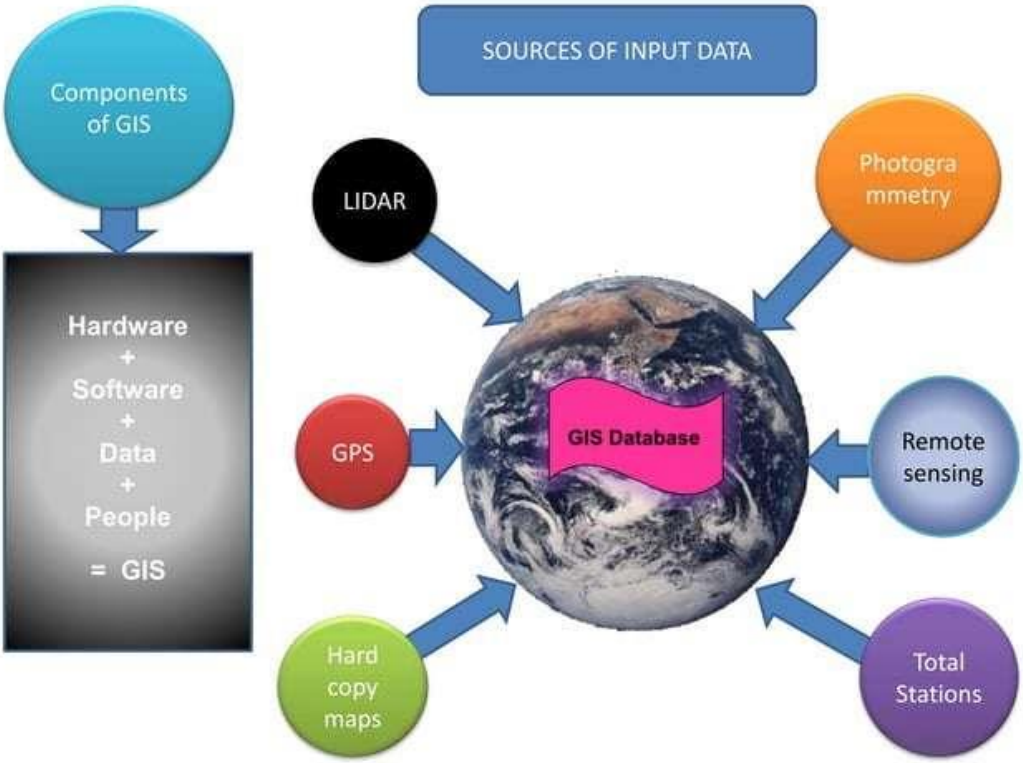

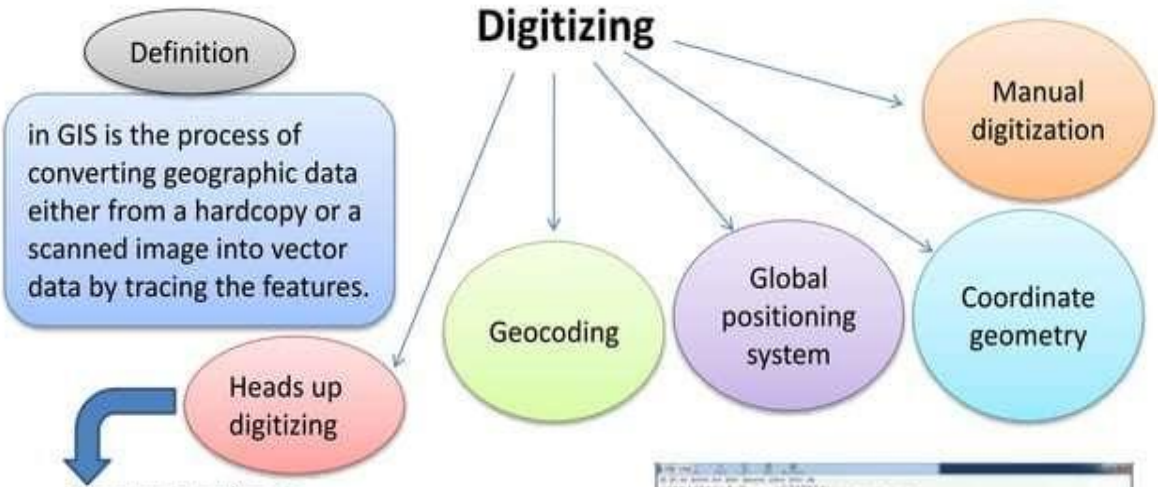

- Scan map or image
- If image not referenced, collect ground coordinates of control points
- Digitize control points (tics, reference points, etc.) of known location
- Transform (register) image to known coordinate system
- Digitize feature boundaries in stream or point mode.
- Edit

Heads-up digitizing of building outlines performed in ArcMap10

Applications of GIS and Mapping Software in Agriculture

1. **Field Mapping**:
    - **Soil Mapping**: GIS can create detailed maps of soil properties such as texture, fertility, and moisture content. This helps in understanding soil variability and making informed decisions about crop management and input application.
    - **Topographic Mapping**: Maps showing elevation and slope are used to assess drainage patterns, identify erosion risks, and plan field layouts.
2. **Precision Agriculture**:
    - **Variable Rate Application**: GIS enables variable rate technology (VRT) by analyzing spatial data to apply inputs like fertilizers, pesticides, and water at varying rates based on specific field conditions.
    - **Yield Mapping**: GIS integrates data from yield monitors to create yield maps that highlight variations in crop production across different field areas.
3. **Irrigation Management**:
    - **Water Usage Analysis**: GIS helps design efficient irrigation systems by mapping field layouts and water needs, optimizing water distribution, and managing irrigation schedules.
    - **Drought Monitoring**: GIS can analyze and visualize data related to drought conditions, helping farmers adjust irrigation practices accordingly.
4. **Crop Monitoring and Management**:
    - **Health Monitoring**: GIS integrates data from remote sensing technologies to monitor crop health, detect diseases, and assess growth patterns.
    - **Crop Rotation Planning**: GIS tools assist in planning crop rotations by analyzing historical data, soil conditions, and crop performance to optimize yields and soil health.
5. **Risk Management**:
    - **Weather Analysis**: GIS integrates weather data to assess potential impacts on crops, helping farmers plan for adverse conditions and mitigate risks.
    - **Disaster Response**: GIS helps in mapping and analyzing the impact of natural disasters like floods or storms, aiding in recovery and response efforts.
6. **Land Use Planning**:
    - **Land Evaluation**: GIS tools evaluate land suitability for different crops and farming practices based on factors such as soil quality, climate, and topography.
    - **Sustainability Assessment**: GIS helps assess the environmental impact of farming practices and supports sustainable land use planning.

Benefits of GIS and Mapping Software in Agriculture

1. **Improved Decision-Making**:
   - **Data Integration**: GIS combines various data sources (e.g., soil, weather, and crop data) to provide comprehensive insights for better decision-making.
   - **Spatial Analysis**: The ability to visualize and analyze spatial patterns helps in understanding field variability and optimizing agricultural practices.
2. **Enhanced Efficiency**:
   - **Optimized Resource Use**: GIS allows for precise application of inputs, reducing waste and ensuring that resources are used where they are needed most.
   - **Better Field Management**: Detailed maps and data analysis enable more effective management of fields, improving overall farm operations.
3. **Cost Savings**:
   - **Reduced Input Costs**: By applying inputs based on spatial data, farmers can reduce the amount of fertilizers, pesticides, and water needed, leading to cost savings.
   - **Increased Yields**: Optimized practices based on GIS data can lead to higher crop yields and improved profitability.
4. **Environmental Benefits**:
   - **Sustainable Practices**: GIS supports sustainable farming practices by providing insights into soil health, water usage, and environmental impact.
   - **Conservation Planning**: Helps in planning conservation efforts and managing natural resources effectively.

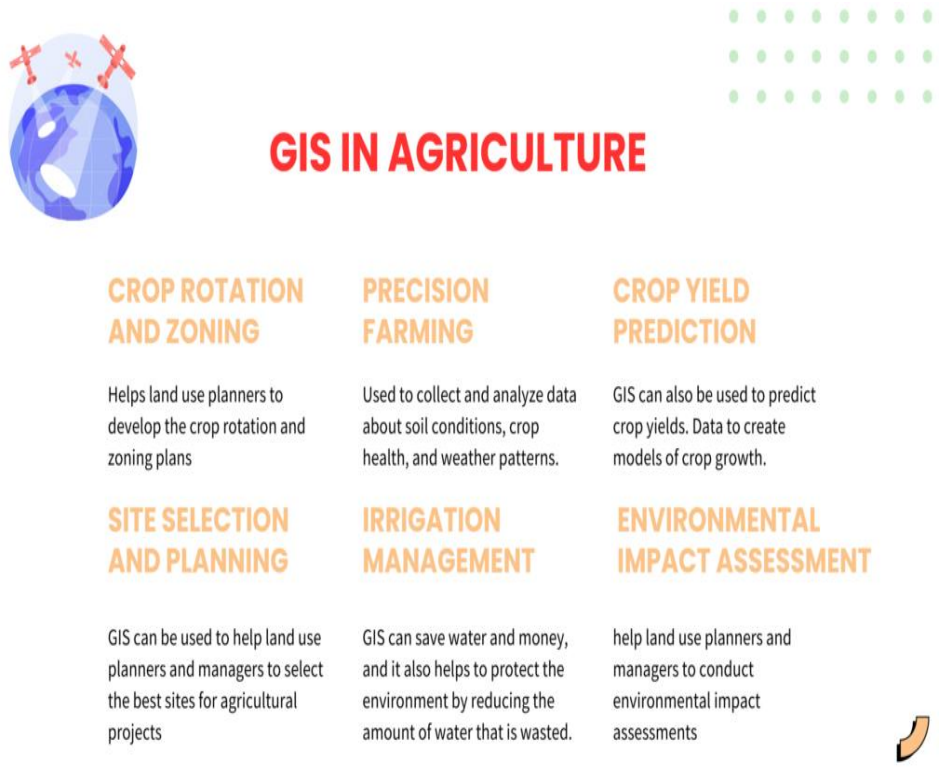

Popular GIS and Mapping Software for Agriculture

1. **ArcGIS**: A comprehensive GIS platform by Esri that offers tools for mapping, spatial analysis, and data management. It is widely used in agriculture for field mapping, precision farming, and data integration.
2. **QGIS**: An open-source GIS software that provides a range of tools for spatial analysis and mapping. It is popular for its flexibility and cost-effectiveness.
3. **Ag Leader SMS**: A farm management software that integrates GIS data for precision agriculture, including field mapping, yield monitoring, and input management.
4. **Trimble Ag Software**: Provides GIS-based solutions for precision farming, including field mapping, auto-steering, and data analysis tools.
5. **John Deere Operations Center**: A platform that offers GIS tools for field mapping, crop monitoring, and precision agriculture, integrated with John Deere machinery.
6. **FarmLogs**: A farm management software that uses GIS to help with field mapping, crop monitoring, and data analysis to optimize farm operations.

Challenges and Considerations

1. **Data Integration**: Combining data from different sources and formats can be complex and requires careful management.
2. **Cost**: High-quality GIS and mapping software can be expensive, although there are cost-effective and open-source options available.
3. **Technical Expertise**: Effective use of GIS requires knowledge and training, which can be a barrier for some farmers.
4. **Data Accuracy**: Ensuring the accuracy and reliability of spatial data is crucial for effective analysis and decision-making.

1.6. Yield mapping systems

Yield mapping refers to the process of collecting geo referenced data on crop yield and characteristics, such as moisture content, while the crop is being harvested. Various methods, using a range of sensors, have been developed for mapping crop yields.

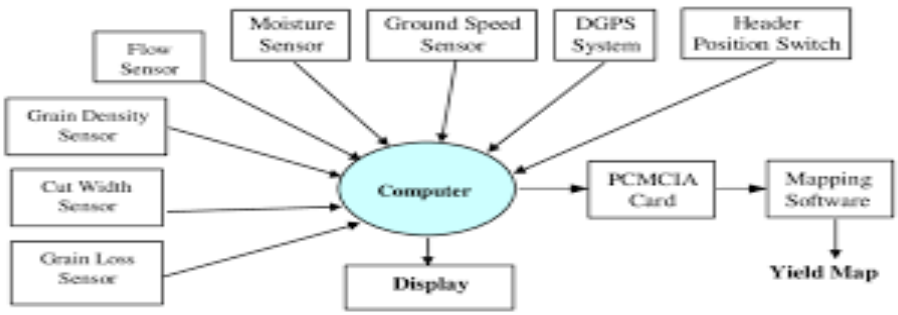

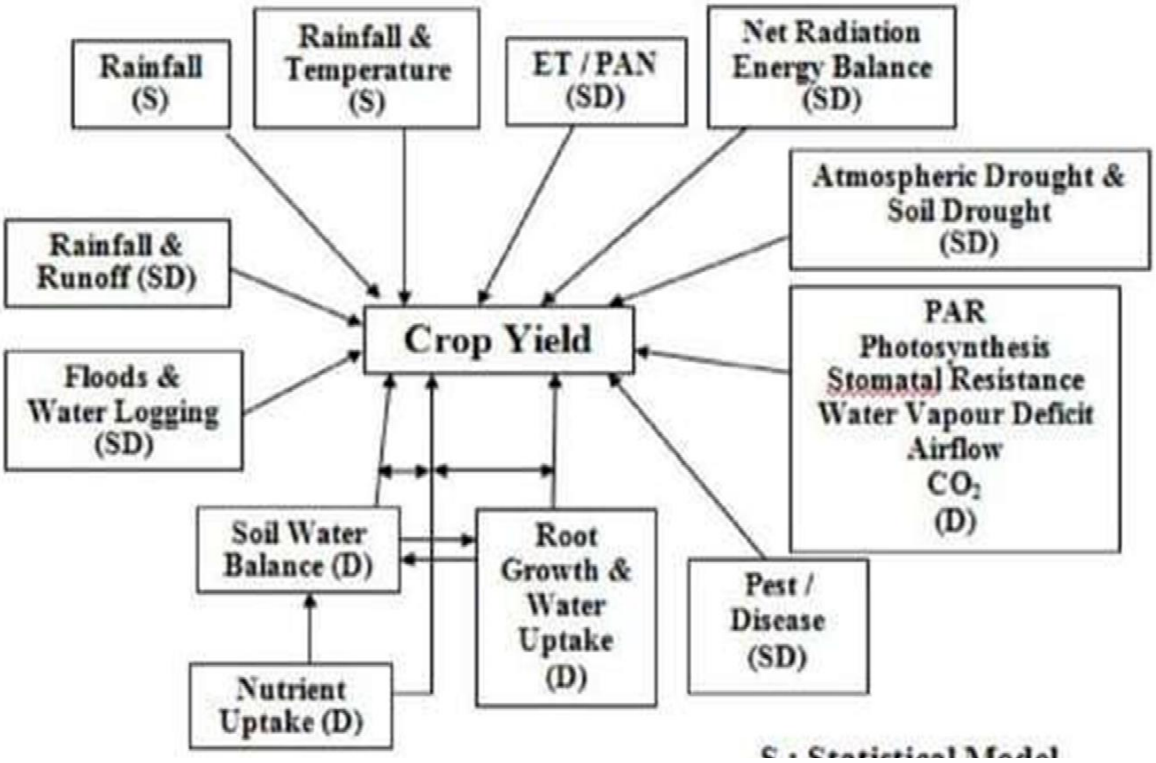

Yield mapping systems in agriculture are advanced technologies that use data collection and analysis to provide detailed insights into crop performance across different areas of a field. These systems help farmers optimize their practices by providing precise information on crop yields, which can be used for a variety of purposes including improving productivity, managing inputs, and making informed decisions. Here's an overview of yield mapping systems, their components, benefits, and popular tools in agriculture IT.

Yield mapping systems record the relative spatial distribution of yield while the crop is being harvested. These systems collect geo referenced data on crop yield and characteristics such as moisture content. The resulting maps can dramatically illustrate the areas of yield variability from either natural processes or
Agricultural practices. Because yield is a primary factor in most management decisions, precise yield maps are desired to confirm spatial treatment decisions.

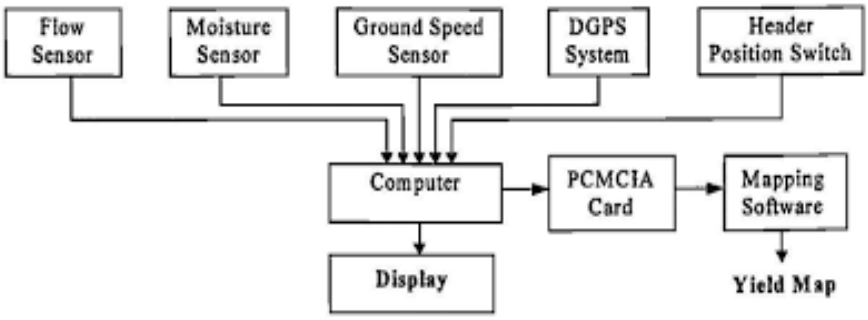

Components of Yield Mapping Systems

What are the basic components of a yield mapping or yield monitoring system?

The application of yield mapping in farmlands lets farmers optimize their production by directing inputs to specific areas within the farms that need them the most.

However, the working mechanism behind yield-monitoring requires several essential components integrated into a combined system to generate real-time and highly accurate data and maps.

While the components may vary depending upon the scale of the farm and the type of the crops being monitored, the basic ***components of the more common grain yield-mapping system include:***

Grain flow-sensor: A grain flow-sensor fitted on the harvester is used to determine the actual quantity of grain being harvested as the harvester moves across the field in real-time.

Grain moisture-sensor: Grain moisture-sensors are also included in the grain combines that measure the capacitance of the grain. This is done to offset the variations in grains caused by environmental factors like rain, temperature, etc.

Ground speed-sensor: It is important to measure the speed of the combined harvester for accurate results. This can be done by using either GPS-based information or an actual ground speed sensor that measures speed from wheel rotation.

GPS-receiver: For geo-coding the measurement made by other sensors, a GPS-receiver is fitted on the grain combine which constantly gives locations to each measurement taken.

Yield-monitor display: It is the component that is fitted inside the cab of the harvesters where the operator/farmer is located. This provides him/her with real-time processed data on a display screen that is being continuously generated by several sensors.

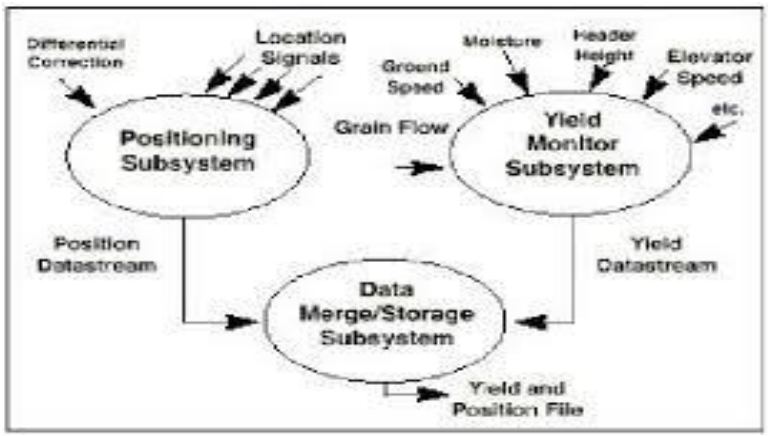

Benefits of Yield Mapping Systems

1. **Enhanced Decision-Making**:
   - **Informed Input Management**: Yield maps help farmers understand which areas of the field produce higher or lower yields, allowing them to adjust input applications (e.g., fertilizers, pesticides) based on specific needs.
   - **Improved Crop Management**: Insights into yield variability can guide decisions on crop rotation, variety selection, and other management practices.
2. **Increased Efficiency**:
   - **Targeted Application**: By applying inputs where they are needed most, farmers can improve resource use efficiency and reduce waste.
   - **Optimized Harvesting**: Understanding yield variations helps in planning harvesting operations more effectively.
3. **Cost Savings**:
   - **Reduced Input Costs**: Precision application of fertilizers, pesticides, and other inputs based on yield data can lead to significant cost savings.
   - **Improved Profitability**: Higher yields and more efficient use of resources contribute to increased profitability.
4. **Enhanced Productivity**:
   - **Yield Improvement**: Identifying and addressing factors that affect yield variability can lead to overall productivity improvements.
   - **Better Field Management**: Detailed yield data helps in managing fields more effectively and improving overall farm operations.
5. **Environmental Benefits**:
   - **Sustainable Practices**: By reducing over-application of inputs and optimizing resource use, yield mapping supports more sustainable farming practices.
   - **Soil Health**: Targeted input application can contribute to better soil management and health.

Popular Yield Mapping Tools and Software

1. **John Deere Operations Center**:
    - Provides comprehensive yield mapping and analysis tools integrated with John Deere machinery. It offers detailed yield maps, variable rate application, and data-driven insights.

2. **Trimble Ag Software**:
    - Includes yield mapping and precision agriculture tools that help in analyzing yield data, managing inputs, and improving farm operations.
3. **Ag Leader SMS**:
    - A farm management software that offers robust yield mapping capabilities, data analysis, and integration with various GPS and yield monitoring systems.
4. **PrecisionHawk**:
    - Provides yield mapping solutions through drone-based imagery and analytics, offering detailed insights into crop health and yield variations.
5. **Climate FieldView**:
    - A platform that combines yield mapping with other data sources, such as weather and soil data, to provide comprehensive insights and recommendations.
6. **FarmLogs**:
    - Offers yield mapping features along with other farm management tools, providing insights into crop performance and field variability.

Challenges and Considerations

1. **Data Accuracy**: Ensuring the accuracy of yield data and GPS positioning is crucial for reliable yield maps and analysis.
2. **Cost**: The initial investment in yield monitoring equipment and software can be high, though the long-term benefits often justify the cost.
3. **Data Management**: Handling and analyzing large volumes of yield data requires proper data management practices and specialized software.
4. **Technical Expertise**: Effective use of yield mapping systems requires knowledge and training in both the technology and data interpretation.
5. **Integration**: Ensuring seamless integration of yield data with other farm management systems and practices is important for maximizing benefits

1.7. Crop production modeling

A broad range of spatially explicit crop response models is needed to evaluate the efficacy of precision agriculture methods and provide the basis for precise recommendations. Many models for predicting how crops respond to climate, nutrients, water, light, and other conditions already exist, yet most of these do not include a spatial component appropriate to precision agriculture applications.

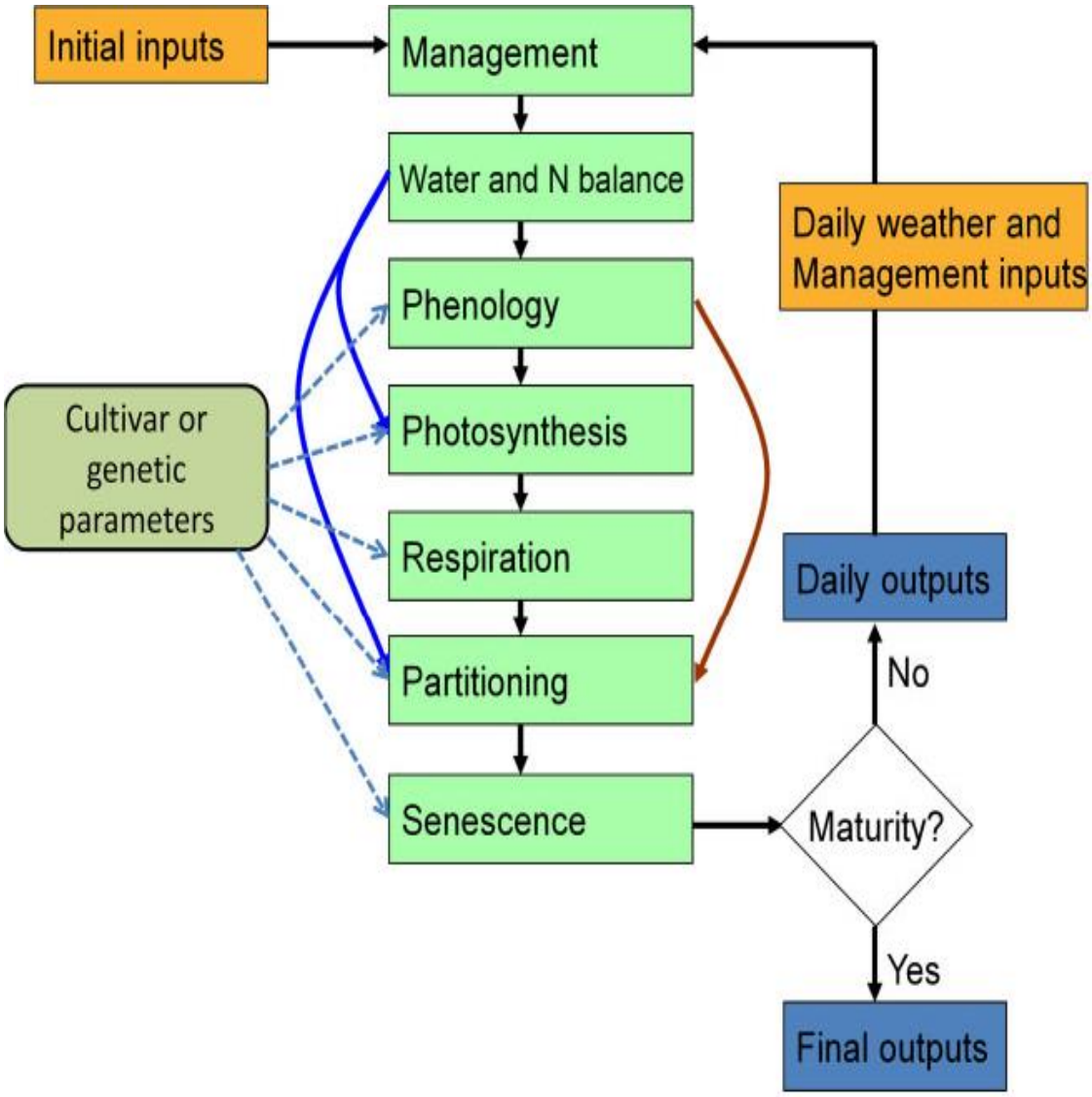

Crop production modelling in agriculture IT involves using various computational tools and techniques to simulate and predict crop growth, yield, and other agricultural processes. These models integrate data from various sources to provide insights that help farmers make informed decisions, optimize practices, and manage risks. Here's an overview of crop production modeling, including its components, benefits, challenges, and some popular tools and models:

Chronology of crop simulation modeling

YEAR	DEVELOPMENTS
1960	Simple water-balance models
1965	Model photosynthetic rates of crop canopies (De Wit)
1970	Elementary Crop growth Simulator construction(ELCROS) by de Wit et al.
1977	Introduction of micrometeorology in the models & quantification of canopy resistance (Goudriaan)
1978	Basic Crop growth Simulator (BACROS) [de Wit and Goudriaan]
1982	International Benchmark Sites Network for Agro-technology Transfer(IBSNAT) began the development of a model (University of Hawaii) Decision Support System for Agro- Technology Transfer (DSSAT)
1992	James reviewed the history of attempts to quantify the relationships between crop yield and water use from the early work on simple water-balance models in the 1960s to the development of crop growth simulation models in the 1980s.
1994	ORYZA1 (Kropff et al., 1994)
1994	India's Ist crop model WTGROWS followed by the construction of ORYZA1N
1995	INFOCROP model developed that can control 16 crops

13

Components of Crop Production Modeling

1. **Data Inputs**:
   - **Climate Data**: Information on temperature, precipitation, solar radiation, and humidity, which affects crop growth.
   - **Soil Data**: Details on soil properties such as texture, moisture content, nutrient levels, and pH.
   - **Crop Data**: Information on crop varieties, growth stages, and physiological parameters.
   - **Management Practices**: Data on planting dates, irrigation schedules, fertilizer applications, and pest management.

2. **Simulation Models**:
    - **Growth Models**: Simulate the physiological processes of crops, including photosynthesis, respiration, and nutrient uptake. Examples include the APSIM (Agricultural Production Systems sIMulator) and the DSSAT (Decision Support System for Agrotechnology Transfer) models.
    - **Yield Models**: Predict crop yield based on various inputs and conditions. They use historical yield data and model simulations to estimate potential outputs.
    - **Weather Models**: Incorporate climate data to predict how weather conditions will affect crop growth and yield.

3. **Data Processing and Analysis**:
    - **Calibration**: Adjusting the model parameters to ensure that simulations match observed data for accuracy.
    - **Validation**: Comparing model predictions with real-world data to assess reliability and accuracy.
    - **Optimization**: Using the model to find the best management practices for maximizing yield and efficiency.

4. **Visualization and Reporting**:
    - **Output Visualization**: Creating charts, graphs, and maps to visualize model outputs such as yield predictions, growth stages, and environmental impacts.
    - **Decision Support**: Generating reports and recommendations based on model simulations to assist in decision-making.

STEPS IN CROP MODELING

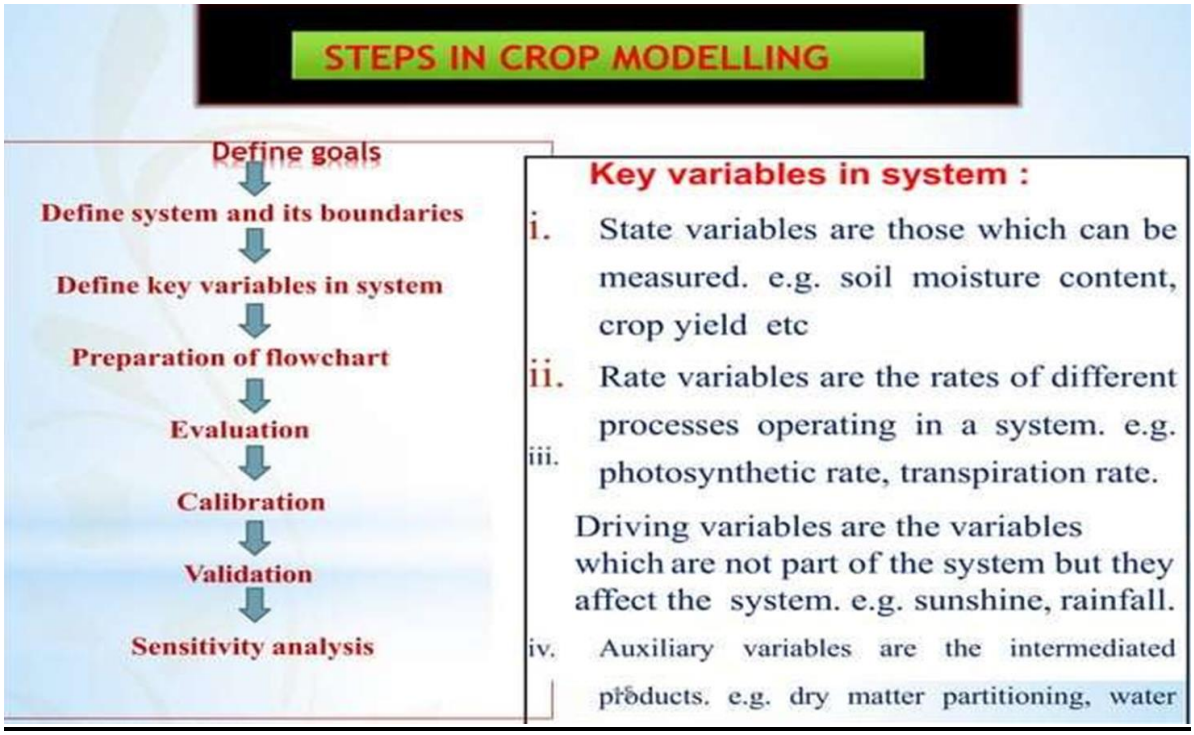

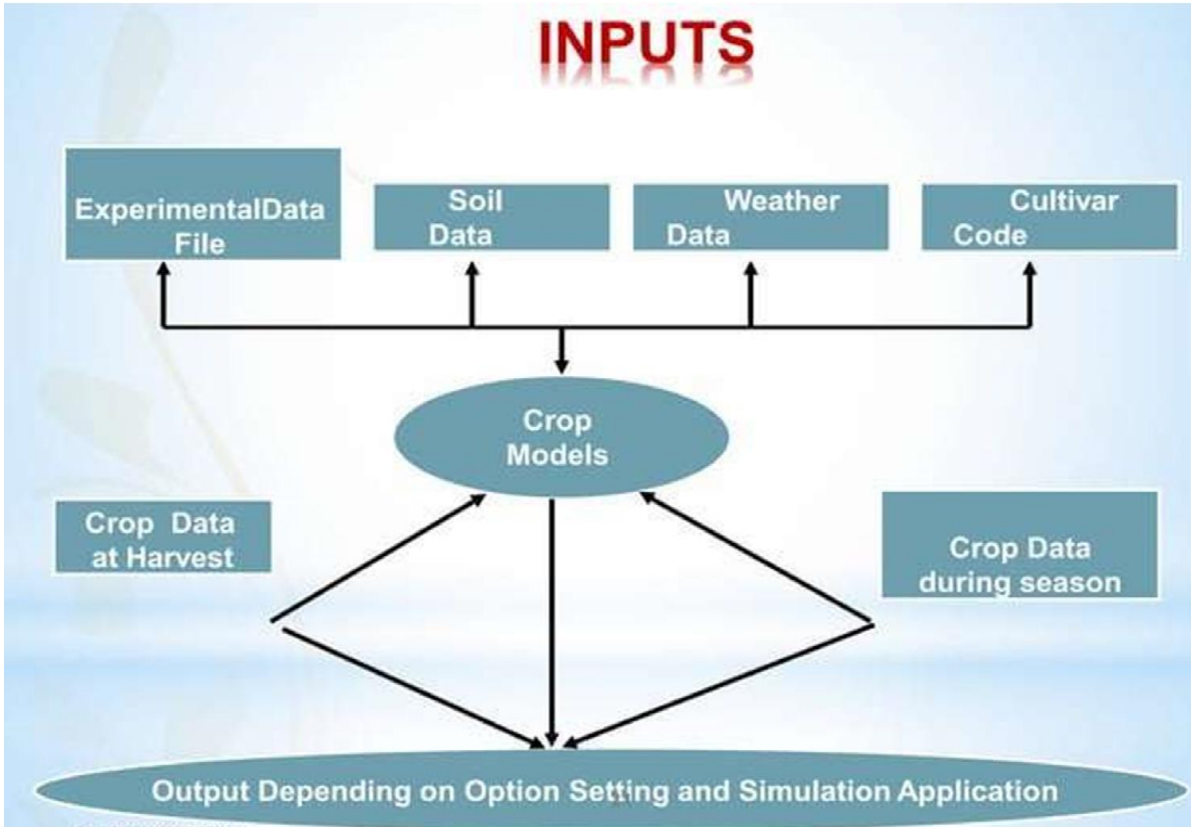

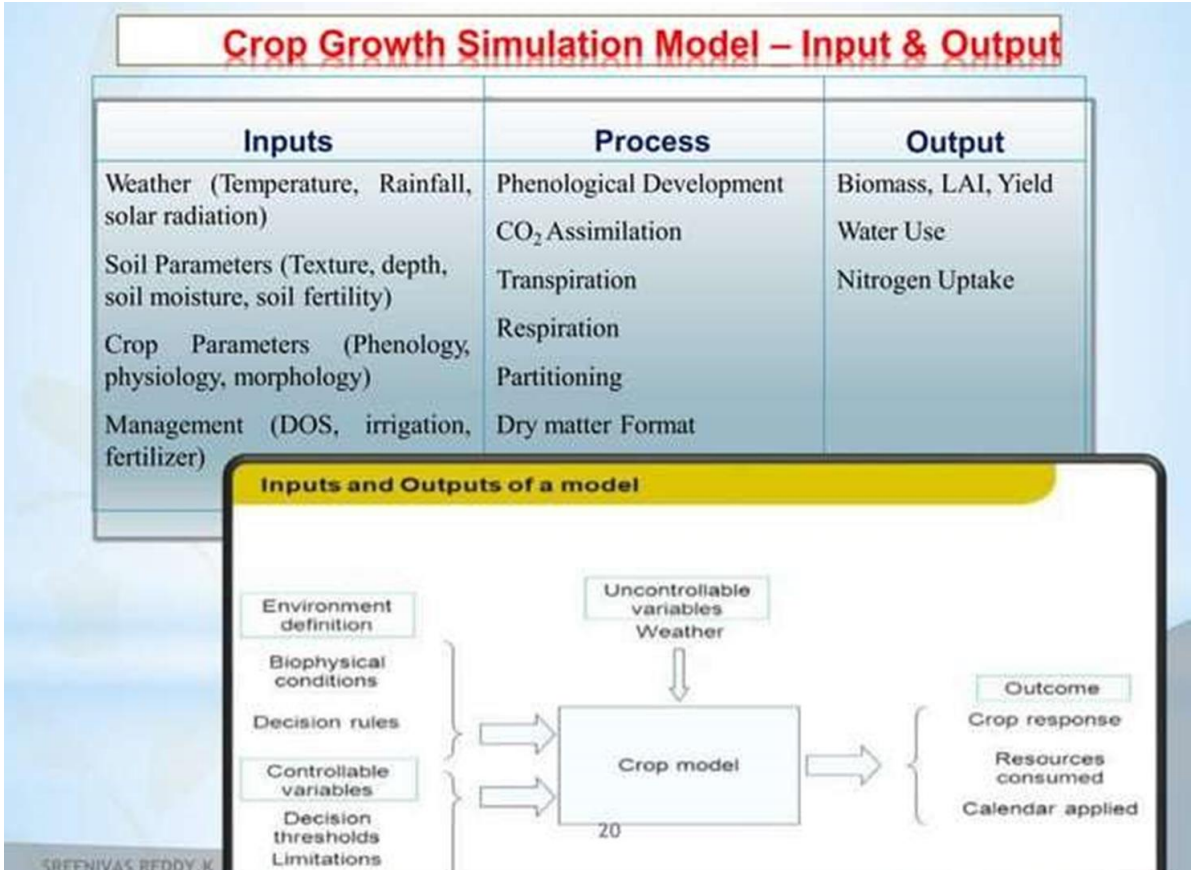

Benefits of Crop Production Modeling

1. **Informed Decision-Making**:
   - **Predictive Insights**: Models provide forecasts and predictions that help farmers plan and make decisions about planting, irrigation, fertilization, and harvesting.
   - **Scenario Analysis**: Allows farmers to evaluate different management practices and scenarios to choose the best strategies.
2. **Optimized Resource Use**:
   - **Efficient Input Management**: Helps in optimizing the use of water, fertilizers, and pesticides by predicting the needs based on crop growth stages and environmental conditions.
   - **Risk Management**: Identifies potential risks such as drought, pests, or disease outbreaks, enabling proactive measures.
3. **Increased Productivity**:
   - **Yield Optimization**: Models help in identifying practices that maximize crop yield and quality.
   - **Improved Management Practices**: Provides insights into how different practices affect crop performance, leading to better management strategies.
4. **Environmental Sustainability**:
   - **Resource Conservation**: Supports sustainable practices by optimizing input use and minimizing environmental impacts.

- **Impact Assessment**: Evaluates the environmental impact of different farming practices and helps in adopting eco-friendly approaches.

Challenges and Considerations

1. **Data Quality**:
   - **Accuracy**: The reliability of models depends on the quality and accuracy of input data. Inaccurate or incomplete data can lead to erroneous predictions.
   - **Availability**: Access to high-quality, detailed data may be limited in some regions.
2. **Model Complexity**:
   - **Complexity**: Crop production models can be complex and require significant computational resources. Understanding and interpreting model outputs may require specialized knowledge.
   - **Calibration and Validation**: Models need to be calibrated and validated with local data to ensure accuracy, which can be time-consuming and resource-intensive.
3. **Adaptability**:
   - **Local Conditions**: Models may need to be adapted to specific local conditions, such as regional soil types and climate variations.
   - **Changing Conditions**: Models must be updated to account for changing environmental conditions, such as climate change and evolving pest pressures.
4. **Integration**:
   - **Data Integration**: Integrating data from different sources and systems can be challenging, but it is essential for accurate modeling and decision-making.
   - **System Compatibility**: Ensuring that modeling tools and systems are compatible with existing farm management software and technologies.

Popular Crop Production Modeling Tools

1. **APSIM (Agricultural Production Systems sIMulator)**:
   - A versatile model that simulates various agricultural systems, including crop growth, soil processes, and climate impacts. It is used for research and practical applications in precision agriculture.
2. **DSSAT (Decision Support System for Agrotechnology Transfer)**:
   - A comprehensive model that simulates crop growth, soil processes, and weather impacts. It is widely used for research and farm management.
3. **STICS (Simulateur mulTIdisciplinaire pour les Cultures Standard)**:
   - A model for simulating crop growth and yield, integrating various factors such as soil, climate, and management practices.
4. **CROPSYS**:
   - A crop modeling system that simulates crop growth, yield, and soil processes, helping in assessing the impacts of different management practices.
5. **FAO AquaCrop**:

- A model developed by the Food and Agriculture Organization (FAO) that focuses on crop-water relationships and is used for optimizing water use in agriculture.

6. **Climate FieldView**:
    - A platform that integrates crop production modeling with real-time weather data and other agronomic information to provide actionable insights.

Future Directions

- **Integration with IoT and Remote Sensing**: Combining crop production models with IoT sensors and remote sensing technologies for real-time data and more accurate predictions.
- **Advancements in AI and Machine Learning**: Leveraging artificial intelligence and machine learning to enhance model accuracy and adaptability.
- **Climate Change Adaptation**: Developing models that account for the impacts of climate change and help in adapting agricultural practices to new conditions.

Crop production modelling is a powerful tool in agriculture IT, offering valuable insights that help farmers optimizes their practices, manage resources efficiently, and enhance productivity. As technology continues to advance, these models are becoming increasingly sophisticated, providing even greater opportunities for precision agriculture and sustainable farming.